Placer.ai

NEW ORLEANS & COMPANY

Civic Dashboard

Mar 16 - Mar 16, 2025

Property:

SS

Super Sunday
2836 Lasalle St, New Orleans, LA 70115

Scan to view on placer.ai platform

500 ft © Mapbox © OpenStreetMap Improve this map

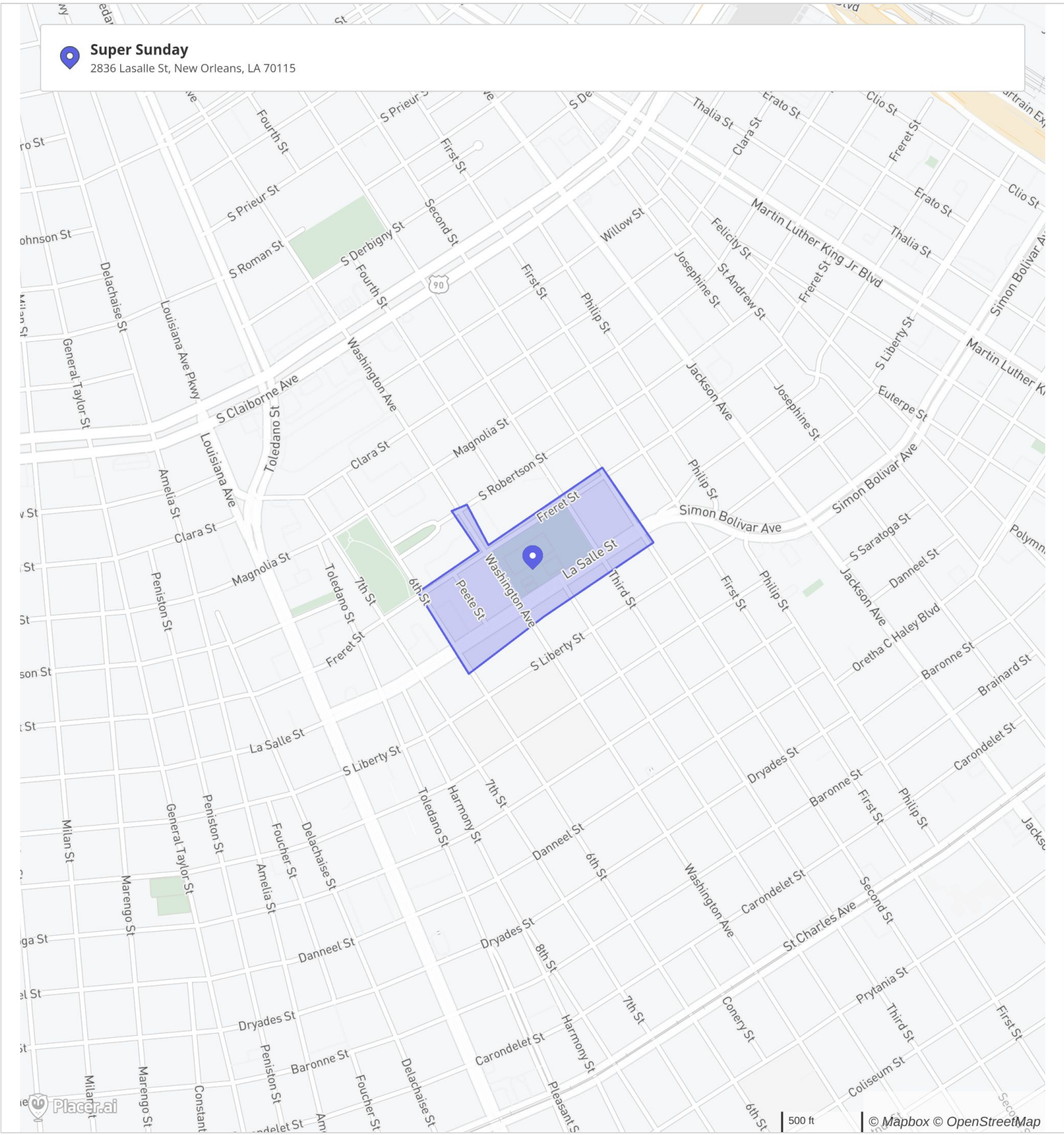
Super Sunday
2836 Lasalle St, New Orleans, LA 70115
S Claiborne Ave
Louisiana Ave
Louisiana Ave Pkwy
Toledano St
Washington Ave
S Robertson St
Freret St
La Salle St
Peete St
S Liberty St
Simon Bolivar Ave
Martin Luther King Jr Blvd
Philip St
Jackson Ave
Josephine St
Willow St
Magnolia St
Clara St
Danneel St
Dryades St
Baronne St
Carondelet St
St Charles Ave
Coliseum St
Prytania St
Coliseum St
Harmony St
Toledano St
Delachaise St
Foucher St
Peniston St
Amelia St
General Taylor St
Milan St
Marengo St
Constant
Euterpe St
S Saratoga St
Orretha C Haley Blvd
Brainard St
Thalia St
Erato St
Clio St
Felicity St
St Andrew St
Fourth St
First St
Second St
Third St
Fifth St
Sixth St
Seventh St
Eighth St
Pleasant St
Coney St
S Prieur St
S Roman St
S Derbigny St
Johnson St
500 ft
© Mapbox © OpenStreetMap
Placer.ai

Metrics

Super Sunday
Lasalle St, New Orleans, LA

Visits	34.1K	Avg. Dwell Time	108 Min
Visits / sq ft	0.04	Panel Visits	1.2K
Size - sq ft	928.1K	Visits YoY	+6,828.2%
Visitors	34.1K	Visits Yo2Y	+8,840.3%
Visit Frequency	--	Visits Yo3Y	+8,918.2%

Mar 16th, 2025
Data provided by Placer Labs Inc. (www.placer.ai)

Placer.ai

Hourly Visits

Super Sunday
Lasalle St, New Orleans, LA

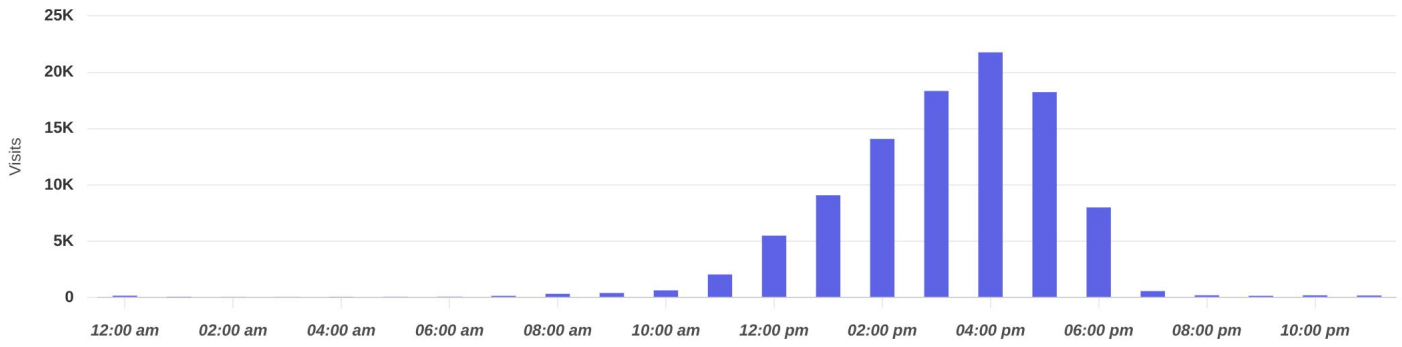

Visits | Mar 16th, 2025
Data provided by Placer Labs Inc. (www.placer.ai)

Placer.ai

Trade Area

Super Sunday
Lasalle St, New Orleans, LA

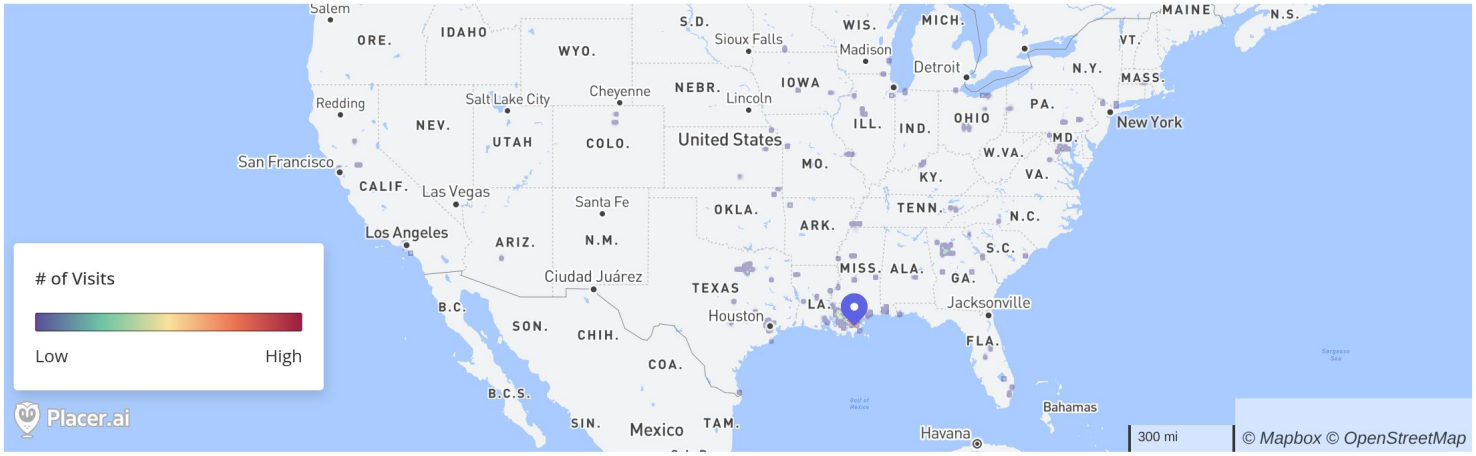

Home locations are obfuscated for privacy and randomly placed within a census block. They do not represent actual home addresses.

Mar 16th, 2025
Data provided by Placer Labs Inc. (www.placer.ai)

Visitors By Origin

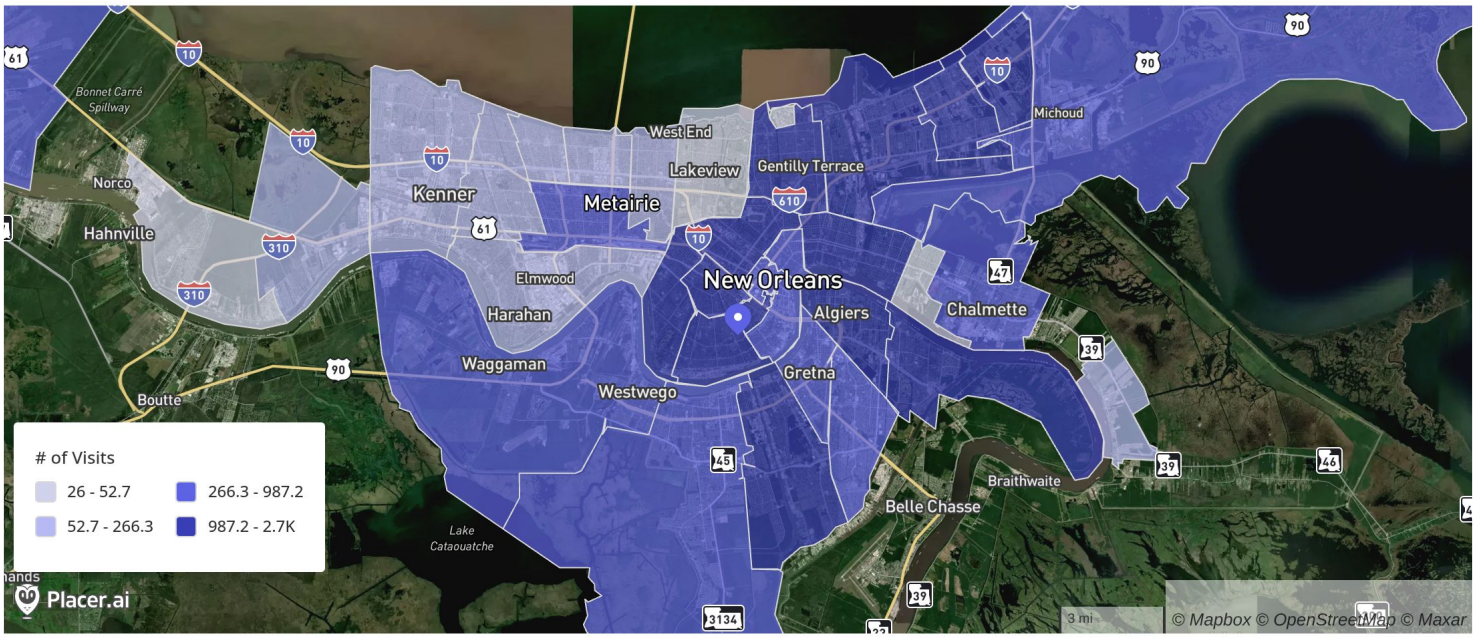

Zip Code	Visits (% of Total)
70126 New Orleans, LA	2.7K (7.9%)
70127 New Orleans, LA	2.3K (6.6%)
70122 New Orleans, LA	2.2K (6.4%)
70128 New Orleans, LA	2K (5.9%)
70117 New Orleans, LA	1.9K (5.6%)
70115 New Orleans, LA	1.5K (4.4%)
70119 New Orleans, LA	1.5K (4.3%)

Zip Code	Visits (% of Total)
70125 New Orleans, LA	1.4K (4%)
70118 New Orleans, LA	1.4K (4%)
70113 New Orleans, LA	1.1K (3.3%)

Mar 16th, 2025
Data provided by Placer Labs Inc. (www.placer.ai)

Trade Area Coverage by Distance

Super Sunday
Lasalle St, New Orleans, LA

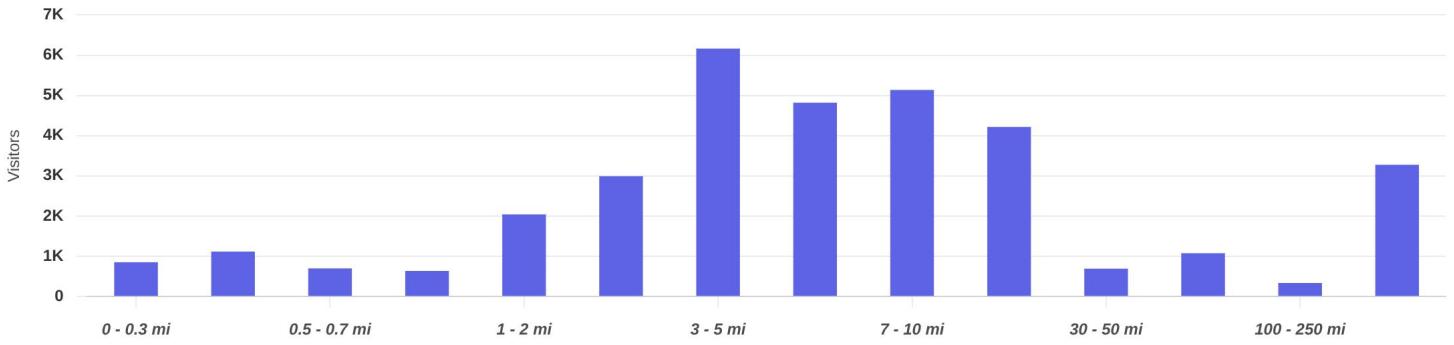

Home Location | Visitors | Min Visits: 1 | Mar 16th, 2025
Data provided by Placer Labs Inc. (www.placer.ai)

Super Sunday

Lasalle St, New Orleans, LA

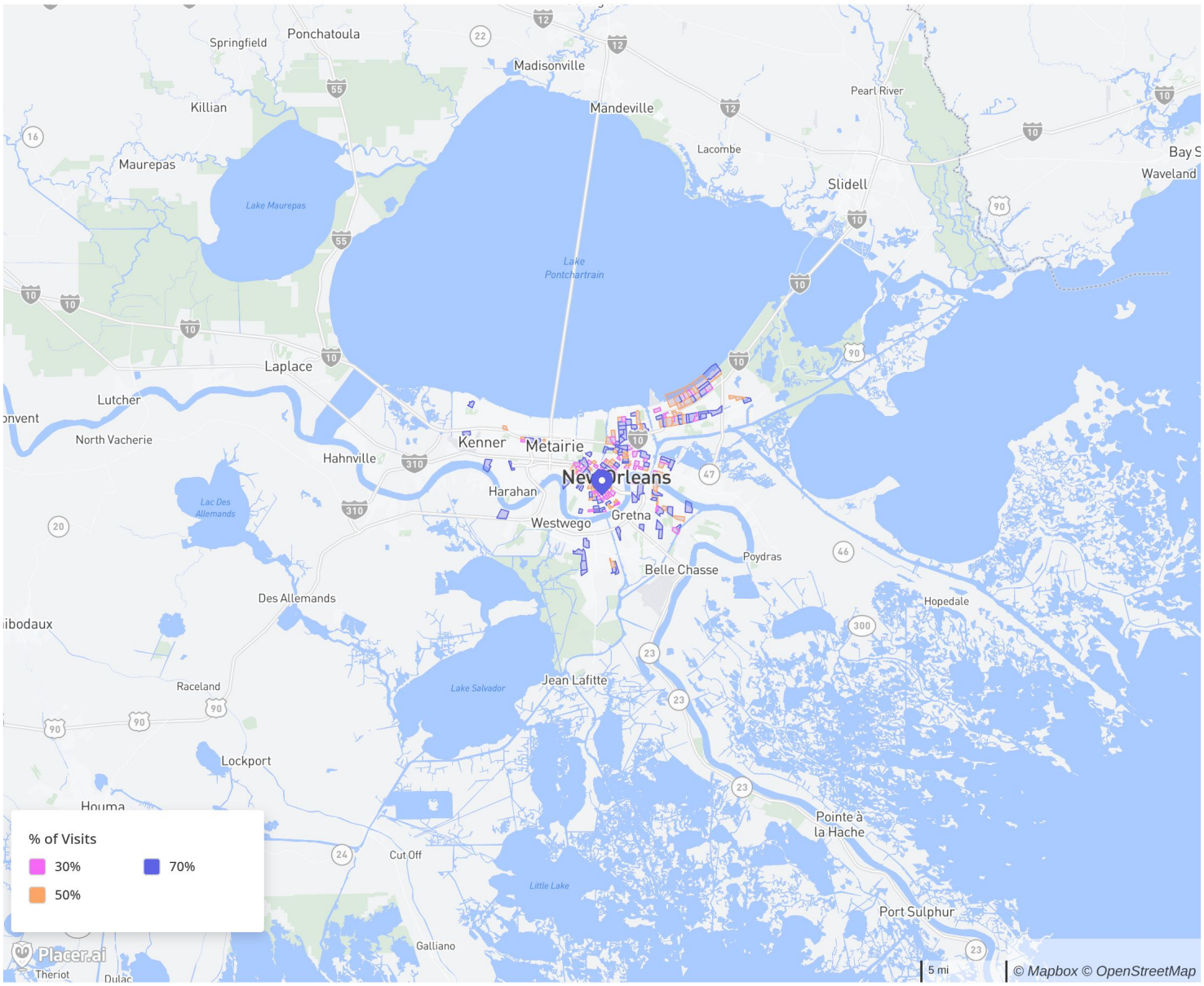

Home locations are obfuscated for privacy and randomly placed within a census block. They do not represent actual home addresses.

Benchmark: Nationwide

	30 % of Visits		50 % of Visits		70 % of Visits	
Households						
Family Households		(40.9%) 63		(44.4%) 69		(46.3%) 72
Non-Family Households		(59.1%) 166		(55.6%) 156		(53.7%) 151
Persons per Household	2.24	86	2.35	90	2.4	92
Ethnicity						
Hispanic or Latino		(9.3%) 49		(8.1%) 42		(8.4%) 44
Two or more races		(3.6%) 92		(3.1%) 8		(3%) 7
Other		(0.6%) 111		(<0.5%) 97		(0.5%) 103
Native Hawaiian and Other Pacific Islander		(<0.5%) 15		(<0.5%) 23		(<0.5%) 16
Asian		(0.9%) 15		(1.3%) 23		(1.5%) 26
American Indian and Alaska Native		(<0.5%) 73		(<0.5%) 45		(<0.5%) 37
Black		(68.1%) 566		(71.7%) 596		(70.9%) 590
White		(17.3%) 30		(15.1%) 26		(15.4%) 27

Calculated using Weighted Centroid from Block Groups | DataSet: Census 2023 (ACS)

Benchmark: Nationwide

	30 % of Visits		50 % of Visits		70 % of Visits	
Hispanic or Latino						
Two or more races	(51.8%)	144	(48.2%)	134	(46.7%)	130
Other	(18%)	56	(25%)	78	(26%)	81
Native Hawaiian and Other Pacific Islander						
Asian	(<0.5%)	41	(<0.5%)	28	(<0.5%)	29
American Indian and Alaska Native	(2.5%)	133	(2.3%)	124	(2.4%)	130
Black	(7.6%)	442	(8%)	462	(7.1%)	409
White	(19.9%)	72	(16.4%)	59	(17.7%)	64
Household Income						
Household Average Income	$60,267.04	55	$60,410.23	55	$61,538.36	56
Average Income per Person	$29,377.25	68	$27,970.89	65	$27,946.58	65
Household Median Income	$37,103.89	47	$39,790.77	50	$41,047.51	52
<$10K	(11.8%)	241	(11.7%)	241	(11.9%)	244
$10K - $15K	(11.3%)	319	(10.5%)	296	(9.9%)	278
$15K - $20K	(7%)	223	(6.9%)	222	(6.4%)	206
$20K - $25K	(5.8%)	168	(5.8%)	168	(5.9%)	171

Calculated using Weighted Centroid from Block Groups | DataSet: Census 2023 (ACS)

Benchmark: Nationwide

	30 % of Visits		50 % of Visits		70 % of Visits	
$25K - $30K	(7.2%)	208	(6.5%)	189	(6.2%)	182
$30K - $35K	(5.2%)	152	(4.8%)	140	(4.6%)	136
$35K - $40K	(4.3%)	123	(3.9%)	113	(4.1%)	118
$40K - $45K	(3.8%)	107	(4.3%)	123	(4.3%)	124
$45K - $50K	(3.6%)	103	(4.2%)	120	(4%)	116
$50K - $60K	(4.3%)	65	(5.2%)	79	(5.6%)	85
$60K - $75K	(9.6%)	105	(9.2%)	100	(9.2%)	101
$75K - $100K	(8.6%)	67	(9.2%)	72	(9.7%)	76
$100K - $125K	(5%)	50	(5.7%)	57	(5.7%)	57
$125K - $150K	(4.7%)	64	(4.5%)	61	(4.7%)	64
$150K - $200K	(3.5%)	38	(3.6%)	39	(3.6%)	39
>$200K	(4.4%)	35	(4%)	32	(4%)	32

Calculated using Weighted Centroid from Block Groups | DataSet: Census 2023 (ACS)

Benchmark: Nationwide

	30 % of Visits		50 % of Visits		70 % of Visits	
Household Size						
1 Person Household	(50%)	175	(47.5%)	166	(46.3%)	163
2 Persons Household	(28.5%)	84	(27.6%)	82	(27.3%)	8
3 Persons Household	(10%)	65	(12%)	78	(12.3%)	8
4 Persons Household	(8.1%)	64	(8.4%)	66	(8.9%)	70
5 Persons Household	(2.4%)	41	(3.2%)	55	(3.4%)	58
6 Persons Household	(0.6%)	26	(0.8%)	37	(1%)	44
7+ Persons Household	(<0.5%)	26	(0.5%)	37	(0.7%)	48
Education						
Elementary	(14.3%)	135	(14.2%)	135	(14.6%)	138
High School Graduate	(25%)	96	(26.6%)	102	(26.5%)	101
College / Associate Degree	(27.7%)	98	(28.5%)	101	(29.2%)	104
Bachelor Degree	(20.3%)	95	(18.5%)	87	(17.8%)	84
Advanced Degree	(12.6%)	92	(12.1%)	88	(11.9%)	87

Calculated using Weighted Centroid from Block Groups | DataSet: Census 2023 (ACS)

Benchmark: Nationwide

	30 % of Visits		50 % of Visits		70 % of Visits	
Labor Force						
Unemployed	(10.4%)	200	(10.1%)	195	(10%)	192
Employed	(89.6%)	95	(89.9%)	95	(90%)	95
Marital Status						
Widowed	(5.7%)	102	(5.6%)	100	(5.6%)	101
Divorced	(15.2%)	142	(13.8%)	129	(13.3%)	125
Married	(26.6%)	54	(28.3%)	57	(29%)	58
Never Married	(52.6%)	154	(52.4%)	154	(52.1%)	153

Calculated using Weighted Centroid from Block Groups | DataSet: Census 2023 (ACS)

Benchmark: Nationwide

	30 % of Visits		50 % of Visits		70 % of Visits	
Transport to Work						
Carpooled	(9.5%)	112	(9.9%)	116	(10.2%)	120
Drove alone	(61%)	87	(63.6%)	91	(64.4%)	92
Worked from home	(12.2%)	90	(11.2%)	83	(10.7%)	7
Other	(1.4%)	131	(1.7%)	157	(1.7%)	154
Walked	(5.5%)	229	(4.7%)	198	(4.4%)	185
Bicycle	(2.8%)	625	(2.1%)	467	(1.8%)	399
Motorcycle	(<0.5%)	236	(<0.5%)	150	(<0.5%)	225
Taxicab	(<0.5%)	159	(<0.5%)	149	(0.5%)	231
Public transportation	(6.9%)	196	(6.2%)	177	(6%)	170
Travel Time to Work						
Median travel time to work	21	92	21	94	21	95
Less than 10 minutes	(12%)	95	(10.6%)	84	(10.4%)	83
10-15 minutes	(16.3%)	123	(15.1%)	114	(14.6%)	110
15-20 minutes	(19.4%)	126	(19.8%)	129	(19.5%)	127
20-25 minutes	(15.2%)	106	(15.4%)	107	(15.4%)	107

Calculated using Weighted Centroid from Block Groups | DataSet: Census 2023 (ACS)

Benchmark: Nationwide

	30 % of Visits		50 % of Visits		70 % of Visits	
25-30 minutes	(6.7%)	98	(5.8%)	85	(6.3%)	93
30-35 minutes	(15.6%)	114	(17.2%)	126	(17.5%)	128
35-45 minutes	(3.5%)	50	(4.2%)	59	(4.2%)	59
45-60 minutes	(5.8%)	72	(6.5%)	8	(6.4%)	7
60 or more minutes	(5.5%)	63	(5.4%)	62	(5.6%)	64
Housing Units						
Vacant	(18.7%)	179	(17.7%)	169	(17%)	163
Occupied	(81.3%)	91	(82.3%)	92	(83%)	93
Occupied Housing Units						
Renter occupied	(59.5%)	170	(56.4%)	161	(54.8%)	157
Owner occupied	(40.5%)	62	(43.6%)	67	(45.2%)	70

Calculated using Weighted Centroid from Block Groups | DataSet: Census 2023 (ACS)

Benchmark: Nationwide

	30 % of Visits		50 % of Visits		70 % of Visits	
Vacant Housing Units						
Other	(58%)	160	(59%)	163	(59.1%)	163
For migrant workers	(1.2%)	570	(0.8%)	364	(0.6%)	270
For seasonal, recreational or occasional use	(12.3%)	38	(10.4%)	32	(10.6%)	32
Sold, not occupied	(1.4%)	34	(1.9%)	46	(1.6%)	39
For sale only	(1.9%)	33	(1.9%)	33	(2.9%)	51
Rented, not occupied	(2.4%)	69	(2.8%)	79	(2.9%)	8
For rent	(22.8%)	130	(23.4%)	133	(22.4%)	128

Calculated using Weighted Centroid from Block Groups | DataSet: Census 2023 (ACS)

Benchmark: Nationwide

	30 % of Visits		50 % of Visits		70 % of Visits	
Value of Owner-Occupied Housing Units						
Median house value	$231,048.35	76	$217,993.72	72	$210,378.12	69
<$100K	(8.5%)	70	(9.5%)	78	(9.9%)	8
$100K - $200K	(31.6%)	177	(34.3%)	192	(36.5%)	205
$200K - $300K	(26.8%)	137	(28.4%)	145	(28.3%)	145
$300K - $400K	(10.6%)	74	(10.1%)	70	(9.7%)	68
$400K - $500K	(7.5%)	71	(6%)	57	(5.4%)	51
$500K - $1000K	(13.9%)	73	(10.4%)	55	(8.9%)	46
>$1000K	(1.1%)	17	(1.3%)	19	(1.4%)	22
Types of Housing Units Structure						
Single Unit	(51.2%)	76	(56.3%)	83	(58.7%)	87
Multi-unit	(48.6%)	182	(43.2%)	162	(40.5%)	152
Boat, RV, van, etc.						
Mobile home	(<0.5%)	3	(0.5%)	9	(0.8%)	14
Health Insurance						
With direct purchase and medicare coverage	(1.3%)	40	(1%)	33	(1.1%)	35

Calculated using Weighted Centroid from Block Groups | DataSet: Census 2023 (ACS)

Benchmark: Nationwide

	30 % of Visits		50 % of Visits		70 % of Visits	
No health insurance coverage	(10.4%)	122	(10.2%)	119	(10.6%)	124
Other coverage combinations	(5.5%)	91	(6.2%)	103	(5.9%)	98
Other public only combinations	(0.5%)	117	(<0.5%)	102	(0.6%)	128
Other private only combinations	(<0.5%)	38	(<0.5%)	40	(<0.5%)	50
Medicare and medicaid/means-tested public coverage	(8.1%)	348	(6.8%)	292	(6.3%)	273
Employer based and medicare coverage	(1.8%)	60	(1.7%)	55	(1.7%)	56
Employer based and direct purchase coverage	(0.9%)	59	(1.2%)	76	(1.3%)	8
VA Health Care only	(<0.5%)	169	(<0.5%)	153	(<0.5%)	144
TRICARE/military health coverage only	(<0.5%)	47	(<0.5%)	38	(<0.5%)	40
Medicaid/means-tested public coverage only	(31.7%)	211	(32%)	213	(32%)	214
Medicare coverage only	(6.7%)	109	(6.8%)	111	(6.7%)	111
Direct purchase health insurance only	(4.7%)	76	(4.7%)	75	(4.8%)	76
Employer based health insurance only	(27.5%)	60	(28.2%)	61	(28.1%)	61
SNAP Households						
Non-snap Households	(75%)	85	(74.2%)	84	(74.4%)	84
Snap Households	(25%)	212	(25.8%)	219	(25.6%)	218

Calculated using Weighted Centroid from Block Groups | DataSet: Census 2023 (ACS)